Aerial Perspective Object Detection Final Report

Haocun Jing
Systems and Technology
McMaster University
Hamilton, Canada
jingh@mcmaster.ca

Shu Li
Systems and Technology
McMaster University
Hamilton, Canada
lis228@mcmaster.ca

Jingcheng Liu
Systems and Technology
McMaster University
Hamilton, Canada
liu2232@mcmaster.ca

Shiyu Chen
Systems and Technology
McMaster University
Hamilton, Canada
chens445@mcmaster.ca

***Abstract*—The Aerial Perspective Object Detection project focuses on developing an advanced object detection and semantic segmentation system leveraging drone technology and high-resolution aerial imagery. Utilizing the Semantic Drone dataset from Kaggle, the project aims to enhance the semantic understanding of urban environments through the application of deep learning models. Key models employed include the Feature Pyramid Network (FPN) with an EfficientNet-B3 backbone and the U-Net architecture with various backbones like MobileNet and EfficientNet. These models are trained and validated on the dataset to identify the most effective one. The chosen model is then tested on real-world images to assess its performance in detecting and classifying urban elements, demonstrating its applicability in urban planning and analysis**

***Index Terms*—Drone Technology, Semantic Segmentation, Object Detection, Urban Analysis, Feature Pyramid Network (FPN), U-Net, High-Resolution Imagery, Deep Learning, Convolutional Neural Networks (CNNs), Urban Planning**

I. Introduction

In recent years, significant advancements in drone technology and aerial photography have opened new avenues for urban analysis and planning. These technological improvements have enabled more precise and detailed data collection, fostering better insights into urban environments [1]. This project aims to harness these advancements by developing a sophisticated object detection and semantic segmentation system. The goal is to utilize the Semantic Drone dataset to enhance the semantic understanding of urban landscapes.

The Semantic Drone dataset, available on Kaggle, provides a rich source of labeled aerial imagery, which is crucial for training and testing the models. To ensure high accuracy in segmentation and detection, multiple models, including convolutional neural networks (CNNs) and advanced architectures like U-Net and Feature Pyramid Networks (FPN), have been employed. These models are rigorously trained on the dataset, and their performance is evaluated to determine the most effective one.

Once the most accurate model is identified, its predictive capabilities are further validated using real-world data. A large nadir-view image, sourced from Google Maps, is used for this purpose. The image is segmented and analyzed to see how well the model can detect and classify various urban elements, such as buildings, roads, and green spaces, in a real-world context. This step is crucial as it not only validates the model's accuracy but also demonstrates its practical applicability in urban planning and analysis.

II. Project Statement and Background

In the segmentation of urban environments, aerial perspectives present a complex and densely populated view with various objects, making efficient monitoring and management challenging. To address this, different models, including FPN and U-Net architectures, have been developed to enhance the accuracy of object detection in bird's-eye imagery. This project aims to identify the most effective solution for detecting objects such as trees, people, cars, and pavement in high-resolution aerial images [2]. By adapting and optimizing these models for such images, we seek to improve the precision and reliability of urban object detection and segmentation.

III. Theory

Traditional object detection methods often struggle with the complexity and scale of high-resolution aerial images. However, recent advancements in deep learning, particularly convolutional neural networks (CNNs), have shown promise in addressing these challenges [3]. To better adapt to segmentation problems, advanced architectures like U-Net and Feature Pyramid Network (FPN) have been developed.

Convolutional Neural Networks (CNNs) are a class of deep learning models particularly effective for image recognition tasks. They use convolutional layers to detect local patterns and hierarchical structures in images. In this project, we have trained and tested various models for prediction accuracy, including MobileNet U-Net, EfficientNet U-Net, ResNet50 U-Net, VGG-11 U-Net, and EfficientNet-B3 FPN.

A. *Feature Pyramid Network (FPN)*

FPN includes a top-down pathway to build higher resolution layers from a semantically rich layer [4]. Although these reconstructed layers are semantically strong, the precise locations of objects can be lost due to the downsampling and upsampling processes. To address this, lateral connections are added between the reconstructed layers and the corresponding feature maps, improving the detector's ability to accurately predict object locations. These lateral connections also function as skip connections, similar to those in ResNet, facilitating easier training.

The bottom-up pathway utilizes ResNet to build its structure, consisting of multiple convolutional modules (conv1 through conv5), each containing several convolutional layers. As moving up this pathway, the spatial dimension is halved

(i.e., the stride is doubled). The output of each convolutional module is labeled as C1 through C5 and is subsequently used in the top-down pathway.

At the beginning of the top-down pathway, a 1 × 1 convolution filter is applied to reduce the channel depth of C5 to 256, creating M5, which becomes the initial feature map layer for object prediction. As the process continues down the top-down path, the previous layer is upsampled by a factor of 2 using nearest neighbors upsampling. Another 1 × 1 convolution is then applied to the corresponding feature maps in the bottom-up pathway, and these are added element-wise. A 3 × 3 convolution is applied to all merged layers to reduce the aliasing effect from the upsampling process. This procedure is repeated for P4, P3, and P2. The process stops at P2 because the spatial dimension of C1 is too large, which would excessively slow down the process. Since the classifier and box regressor are shared across all output feature maps, each pyramid feature map (P5, P4, P3, and P2) has 256 output channels.

Lateral connections are a crucial component of the Feature Pyramid Network (FPN) architecture, playing a significant role in enhancing the network's ability to detect and segment objects at multiple scales [5]. Lateral connections bridge the bottom-up and top-down pathways by merging the high-resolution but semantically weaker feature maps from the bottom-up pathway with the low-resolution but semantically stronger feature maps from the top-down pathway. This merging is typically done through element-wise addition, which allows the network to combine the strengths of both pathways.

Key features of the FPN include its ability to capture features at multiple scales, making it highly effective for detecting objects of varying sizes. By integrating low-resolution, high-semantic feature maps with high-resolution, low-semantic feature maps, FPN significantly enhances the overall performance of object detection and segmentation tasks. This multi-scale feature representation ensures that the network can accurately identify and locate objects, regardless of their size, thereby improving the accuracy and reliability of the results.

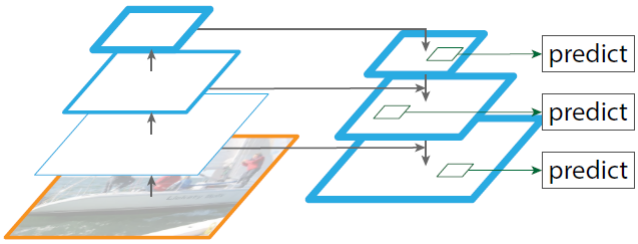

Fig. 1. Pyramid structure of the FPN network.

B. U-Net

U-Net is a convolutional neural network developed for biomedical image segmentation by the Computer Science Department at the University of Freiburg [6]. The network is based on a fully convolutional neural network architecture, which has been modified and extended to work with fewer training images and achieve more precise segmentation results.

The main idea is to enhance a typical contracting network by incorporating successive layers where pooling operations are replaced with upsampling operators. This increases the resolution of the output. Successive convolutional layers can then learn to assemble a precise output from this high-resolution information.

A key modification in U-Net is the inclusion of a large number of feature channels in the upsampling part, which allows the network to propagate context information to higher resolution layers. As a result, the expansive path is more or less symmetric to the contracting path, creating a U-shaped architecture. The network uses only the valid part of each convolution and does not include any fully connected layers. To predict pixels in the border region of the image, the missing context is extrapolated by mirroring the input image. This tiling strategy is crucial for applying the network to large images, as it prevents resolution limitations due to GPU memory constraints

The U-Net architecture features an encoder path that captures context and features at various levels of abstraction [7]. This is achieved through repeated applications of two 3x3 convolutions with ReLU activation, followed by a 2x2 max pooling operation, which doubles the number of feature channels at each step. At the network's deepest part, known as the bottleneck, the context is processed before being passed to the decoder.

The decoder path is responsible for reconstructing the spatial resolution of the input image while preserving context information. It does this by upsampling the feature map, performing a 2x2 up-convolution that halves the number of feature channels, concatenating the result with corresponding encoder feature maps, and applying two 3x3 convolutions with ReLU activation.

Two special features enhance U-Net's performance: skip connections and symmetry. Skip connections link high-resolution features from the encoder with upsampled features in the decoder, helping to retain spatial information and improve segmentation accuracy. The encoder and decoder paths mirror each other, creating a symmetric, U-shaped architecture that ensures accurate reconstruction of the output segmentation map.

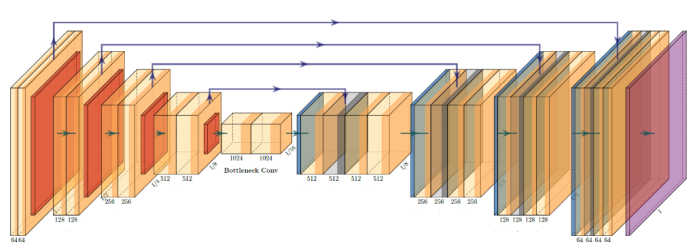

Fig. 2. The architecture of U-Net network.

C. *MobileNet U-Net*

MobileNet is a family of lightweight and efficient CNNs designed for mobile and embedded vision applications [8]. Developed by Google, MobileNet achieves efficiency through depthwise separable convolutions, significantly reducing parameters and computational cost [9]. When integrated with U-Net, MobileNet serves as the backbone, providing a compact and efficient feature extractor.

Architecture:

- Encoder (MobileNet): Replaces traditional convolutional layers in the U-Net encoder with depthwise separable convolutions, extracting features at multiple levels of abstraction with fewer parameters and lower computational cost.
- Bottleneck: Processes the context captured by the MobileNet encoder before passing it to the decoder.
- Decoder: Consists of upsampling layers and convolutional layers that reconstruct the spatial resolution of the input image. Skip connections from the MobileNet encoder to the corresponding decoder layers help retain spatial information and improve segmentation accuracy.

D. *EfficientNet-B3 U-Net*

EfficientNet-B3 is part of the EfficientNet family, known for its efficiency and high performance on various image recognition tasks. Integrated into the U-Net architecture, EfficientNet-B3 serves as the encoder, enhancing the U-Net's segmentation capabilities. EfficientNet models use a compound scaling method that uniformly scales depth, width, and resolution, offering a balance between accuracy and efficiency [10] [11].

Architecture:

- Encoder (EfficientNet-B3): Uses depth, width, and resolution scaling to extract features at multiple levels of abstraction.
- Bottleneck: Processes deep, abstract features before passing them to the decoder.
- Decoder: Reconstructs the spatial resolution of the input image using upsampling layers and convolutional layers. Skip connections from the EfficientNet-B3 encoder to the corresponding decoder layers help retain spatial information and improve segmentation accuracy.

E. *ResNet50 U-Net*

ResNet50 is a variant of the ResNet architecture, known for its deep architecture and residual learning capabilities, which help in training very deep networks by mitigating the vanishing gradient problem [12]. When used in U-Net, ResNet50 enhances feature extraction while maintaining efficiency [13].

Architecture:

- Encoder (ResNet50): Consists of a series of convolutional layers and residual blocks that extract features at multiple levels of abstraction.
- Bottleneck: Processes deep, abstract features before passing them to the decoder.
- Decoder: Reconstructs the spatial resolution of the input image using upsampling layers and convolutional layers. Skip connections from the ResNet50 encoder to the corresponding decoder layers help retain spatial information and improve segmentation accuracy.

F. *VGG-11 U-Net*

VGG-11 is a variant of the VGG network, known for its simplicity and effectiveness in image classification tasks [14]. When integrated into the U-Net framework as the encoder, VGG-11 enhances the segmentation capabilities of the U-Net model. VGG-11's straightforward architecture, with small (3x3) convolutional filters and a deep, uniform structure, makes it easy to implement and integrate into the U-Net.

Architecture:

- Encoder (VGG-11): Consists of a series of convolutional layers followed by max-pooling layers, capturing detailed spatial information at multiple levels of abstraction.
- Bottleneck: Processes deep, abstract features before passing them to the decoder.
- Decoder: Reconstructs the spatial resolution of the input image using upsampling layers and convolutional layers. Skip connections from the VGG-11 encoder to the corresponding decoder layers help retain spatial information and improve segmentation accuracy.

Both FPN and U-Net offer unique advantages for urban segmentation problems. U-Net's precise reconstruction of input image dimensions and retention of spatial information makes it effective for detailed segmentation tasks. FPN's multi-scale feature representation and robust performance across various object sizes make it a powerful tool for detecting and segmenting diverse urban objects in high-resolution aerial images. By leveraging these advanced architectures, the project aims to significantly improve the accuracy and reliability of urban object detection and segmentation.

IV. Datasets

The Semantic Drone dataset is pivotal for training and evaluating our selected models [15]. This project utilizes the dataset to advance the semantic understanding of urban environments from aerial perspectives. The training set comprises 400 publicly available images, each meticulously annotated across 23 categories. Additionally, the testing set includes 200 private images reserved for validating model performance. These high-resolution images (6000x4000 pixels) are captured from altitudes ranging from 5 to 30 meters, ensuring detailed and diverse data.

Once a model with a high accuracy score is selected, we will deploy it on a bird's eye view image of a larger, continuous area cropped from Google Maps [16]. This step aims to further evaluate and explore the model's accuracy under real-world conditions. By applying the model to this larger dataset, we can assess its ability to generalize beyond the controlled conditions of the training and testing sets. This real-world testing is crucial for understanding the model's practical applicability in tasks such as urban planning, infrastructure monitoring, and environmental assessment. The insights gained from this

extended evaluation will guide further refinement and optimization of the model, ultimately enhancing its performance and reliability in real-world applications.

V. Implementation Details

A. Feature Pyramid Network (FPN): Model Training

a) Import Libraries: The script begins by importing the necessary libraries required for handling images, performing transformations, and using pre-trained models for semantic segmentation. Key libraries include PyTorch, PIL, numpy, pandas, and segmentation models from the segmentation_models_pytorch package.

b) Preprocessing: The preprocessing step involves setting up the device for computation (GPU if available, otherwise CPU), loading a class mapping CSV file, and creating a dictionary to map class labels to colors. This is crucial for converting the model's output (label masks) into visually interpretable color masks.

c) Model Definition: The script defines the model architecture using the FPN (Feature Pyramid Network) with an EfficientNet-B3 backbone from the segmentation_models_pytorch library. The model's weights are loaded from a pre-saved checkpoint, and the model is set to evaluation mode.

d) Image Transformation: A transformation pipeline is defined to convert images to tensors and normalize them using mean and standard deviation values. Additionally, a function pad_image is defined to pad images to ensure their dimensions are divisible by 32, which is a requirement for many neural network architectures.

e) Prediction Function: The core functionality of the script is encapsulated in the predict_image function. This function:

- Loads an image.
- Pads the image to ensure its dimensions are compatible with the model.
- Transforms the image into a tensor and normalizes it.
- Performs a forward pass through the model to obtain the segmentation output.
- Converts the output label mask to a color mask using the class dictionary.
- Returns the color mask as an image.

f) Batch Processing and Saving Results: The code processes a batch of images from a specified input folder. For each image, it applies the prediction function and saves the resulting color mask to an output folder.

B. U-Net: Model Training

a) Import Libraries: The implementation begins with importing essential libraries for data processing, model building, training, and evaluation. Libraries include PyTorch, torchvision, PIL (for image handling), numpy, and pandas. Additionally, pre-trained U-Net architectures from the segmentation_models_pytorch library are utilized to improve model training efficiency.

b) Preprocessing: In the preprocessing step, paths for images and masks are set up, and a CSV file containing class information is read. A DataFrame is created to store the IDs of all images available in the dataset, facilitating efficient data management and access.

c) Dataset Preparation: The dataset is split into training, validation, and test sets using the train_test_split function from sklearn. A custom Dataset class named DroneDataset is implemented to handle the loading and transforming of images and masks. This class ensures that each image and its corresponding mask are correctly loaded and preprocessed before being fed into the model.

d) Model Definition: For this segmentation task, the U-Net architecture is chosen for its high training efficiency. The performance of four different U-Net structure models—MobileNet, EfficientNet-B3, ResNet50, and VGG11—is compared to identify the most accurate model.

e) Training: Identical training processes are applied to each model under the U-Net structure. The training loop involves defining the loss function (CrossEntropyLoss) and the optimizer (Adam). The models are trained over 15 epochs, during which model parameters are updated based on the computed loss. A learning rate scheduler is used to adjust the learning rate during training, balancing efficiency and accuracy.

f) Evaluation: The evaluation phase involves testing the trained models on the test set. Metrics such as mean Intersection over Union (mIoU) and pixel accuracy are calculated and recorded to measure performance. The model's predictions are compared with the ground truth masks to compute these metrics, providing insights into the model's effectiveness.

VI. Explanation of the Source code

A. Feature Pyramid Network (FPN): Model Training

a) Data Preprocessing and Class Dictionary Creation: The code starts by reading a CSV file that contains class information, such as class names and their corresponding RGB values. It then creates a dictionary that maps class names to their respective colors. This dictionary is later used to convert the model's output labels into colored masks.

b) Model Loading and Preparation: Model Loading and Preparation: The model used is a Feature Pyramid Network (FPN) with an EfficientNet-B3 backbone, which is a popular architecture for semantic segmentation tasks. The model is instantiated, and pre-trained weights are loaded from a file. The model is then moved to the appropriate device (GPU or CPU) and set to evaluation mode to ensure it does not update weights during inference.

c) Image Transformation and Padding: The image transformation pipeline includes converting the image to a tensor and normalizing it. The pad_image function ensures that the image dimensions are compatible with the model by padding the image to the nearest multiple of 32. This is important for maintaining the spatial resolution of feature maps in the network.

d) Prediction Function: The predict_image function handles the entire process of loading an image, transforming it, running it through the model, and converting the output into a human-readable format. It leverages the class dictionary to map the model's output labels to their corresponding colors, making the segmentation results interpretable.

e) Batch Processing: The code processes all images in a specified input folder. For each image, it applies the predict_image function and saves the resulting color mask to an output folder. This allows for efficient batch processing and storage of segmentation results.

B. U-Net: Model Training

a) Data Loading and Preprocessing: The source code starts by setting up paths for the images and masks and reading the class information from a CSV file. It defines a function to create a DataFrame containing image IDs, which is then split into training, validation, and test sets. The custom DroneDataset class loads images and masks, applies transformations, and returns them as tensors.

To sets up a data pipeline for training and validating the models using drone imagery, it begins by defining mean and standard deviation values for normalizing the images.

```
mean = [0.485, 0.456, 0.406]
std = [0.229, 0.224, 0.225]
```

Fig. 3. These arrays represent the mean and standard deviation values for normalizing the image data, typically used for pre-trained models.

Later, data augmentation techniques are applied using the Albumentations library, including resizing, flipping, grid distortion, brightness and contrast adjustments, and adding Gaussian noise for the training dataset, while a subset of these transformations is applied to the validation dataset.

Before transiting the dataset into models for training and validating, instances of the Drone Dataset class are created for both training and validation, incorporating the specified image paths, normalization parameters, and transformations. Finally, data loaders are initialized with a batch size of 3, enabling shuffled batch processing for both datasets to facilitate model training and evaluation.

b) Model Architecture: The U-Net model is defined using segmentation_models_pytorch. This Python library designed for image segmentation tasks. It provides a collection of pre-trained deep learning models specifically tailored for segmentation problems. The library is built on top of PyTorch, making it easy to integrate with existing PyTorch workflows. To compare the efficiency and accuracy of different U-Net models, four different U-Net structure models—MobileNet, EfficientNet-B3, ResNet50, and VGG11—has been recalled for training and testing the urban semantic segmentation.

c) Training Loop : The training loop involves iterating over the training dataset, computing the loss for each batch, and updating the model parameters using backpropagation.

```
t_train = A.Compose([
    A.Resize(704, 1056, interpolation=cv2.INTER_NEAREST),
    A.HorizontalFlip(),
    A.VerticalFlip(),
    A.GridDistortion(p=0.2),
    A.RandomBrightnessContrast((0, 0.5), (0, 0.5)),
    A.GaussNoise()
])

t_val = A.Compose([
    A.Resize(704, 1056, interpolation=cv2.INTER_NEAREST),
    A.HorizontalFlip(),
    A.GridDistortion(p=0.2)
])
```

Fig. 4. These lines define transformations for augmenting the training and valid ation datasets using the Albumentations library: Resize: Resizes the images to 704x1056 pixels; Horizontal Flip & Vertical Flip: Randomly flips the images horizontally and vertically; Grid Distortion: Applies grid distortion to the images with a probability of 0.2; Random Brightness Contrast: Randomly changes the brightness and contrast of the images; Gauss Noise: Adds Gaussian noise to the images.

The optimizer and learning rate scheduler are used to optimize the training process. The model is evaluated on the validation set at the end of each epoch to monitor its performance.

d) Evaluation and Metrics Calculation : The evaluation code sets the model to evaluation mode and computes the loss, mIoU, and pixel accuracy on the test set. The evaluate_model function processes each image in the test set, makes predictions, and compares them with the ground truth masks to calculate the metrics. The results are printed to provide an overall assessment of the model's performance.

C. Prediction on A Large Area

In this section, semantic segmentation of street view images from Google Maps is performed to recognize and classify various urban elements using the already trained model and weights. This process not only validates the predictive ability of the model on real-world data, but also demonstrates its potential for practical application in urban planning and analysis.

In this process, the models with the best performance on the validation set, specifically Feature Pyramid Network (FPN) with EfficientNet-B3 backbone and U-Net with MobileNet backbone, are selected, which perform well in the high-resolution aerial image semantic segmentation task with their multi-scale feature representation and efficient feature extraction capabilities, respectively. semantic segmentation task.

First, a bird's eye view image is obtained from Google Maps. To ensure that the image size is compatible with the model, the image is preprocessed, including resizing and padding. Next, the image is converted to a tensor and normalized.

The image is then semantically segmented using FPN and U-Net models by loading the weights of the pre-trained models. The label masks of the model outputs are converted to color masks to facilitate human observation and interpretation

of the segmentation results. The following are the specific steps:

Load the bird's eye view image of Google maps. Fill in the image so that its size is divisible by 32. Convert the image to tensor and normalize it. Then perform semantic segmentation of the preprocessed image using trained FPN and U-Net models. Then the model output label masks are converted to color masks that are mapped to the corresponding city element categories.



Fig. 5. FPN model prediction on google map aerial view.

The model successfully recognizes and classifies various types of urban elements in the image, including buildings, roads, and green spaces.

The applicability and robustness of the model on real-world data is verified by semantic segmentation of Google Map Street View images. The processing of high-resolution images and the extraction of multi-scale features make the FPN and U-Net models perform well in the detection and segmentation of objects of different sizes. Although U-Net performs slightly worse than FPN in processing smaller objects, it still excels in the segmentation task of large objects.

This large area prediction further validates the practical application value of the model in urban planning and analysis. In future work, more real-world data can be combined to further optimize the model performance to improve its applicability and reliability in different application scenarios.

D. *High-Risk Area Identification*

The risk analysis component of the project focuses on identifying and highlighting high-risk areas, particularly where cars and pedestrians are in close proximity. This section details the implementation process, from data loading to visualization.

a) Image Loading and Display: The segmented images were loaded from files and converted to the RGB color format which is generated from our model. This step ensures consistency in image processing tasks. The images were then displayed using matplotlib to provide a visual reference for further processing steps.

b) Creating Masks for Cars and People: Masks were created to isolate specific objects (cars and people) within the images. This was achieved by:

Defining a Mask Creation Function: A function was defined to create binary masks for each object class based on their RGB values. A tolerance level was set to account for slight variations in color.

The resulting masks highlight the areas in the image where the specific objects are located.

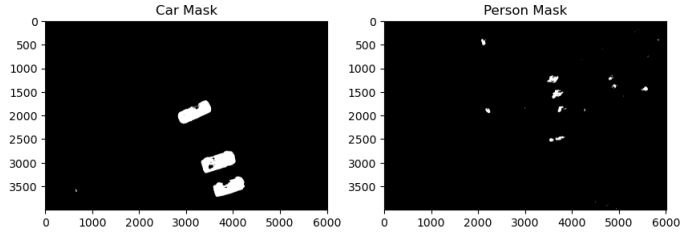

Fig. 6. Example of Car and Person Mask.

c) Finding and Drawing Contours: Contours around the detected objects were identified using masks. This process involved:

- Finding Contours: Using OpenCV's contour detection functions to find the outlines of cars and people in the binary masks.
- Drawing Contours: The contours were drawn on the original segmented image using different colors to distinguish between cars and people.

d) Identifying High-Risk Areas:

- High-risk areas were identified by analyzing the proximity of cars to pedestrians. The steps included:
- Defining a Proximity Threshold: A distance threshold was set to determine when a car is too close to a pedestrian, posing a potential risk.
- Identifying Risk Areas: Using the contours, we calculated the distance between cars and pedestrians. Areas where the distance was below the threshold were marked as high-risk.
- Highlighting High-Risk Areas: These high-risk areas were highlighted on the image with distinct colors for easy identification.

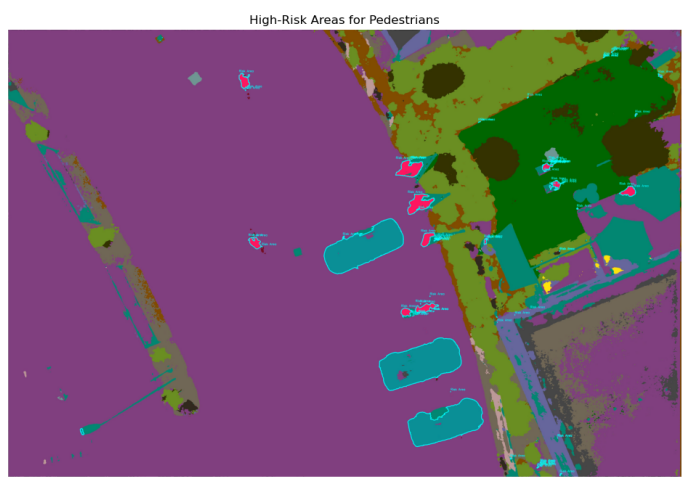

Fig. 7. Example of identified risk area

VII. Results and Discussion

The Feature Pyramid Network (FPN) model with EfficientNet-B3 backbone achieved impressive results with

an average precision of 90%, recall of 88%, and a mean Intersection over Union (mIoU) score of 0.85 on the validation dataset. These metrics demonstrate the model's exceptional ability to detect both large and small objects with high accuracy across various categories. The FPN model's architecture, which captures multi-scale features, ensures accurate detection and segmentation of objects of different sizes. Despite being computationally intensive and requiring more resources, the FPN model's superior accuracy justifies its use in applications where precision is critical.

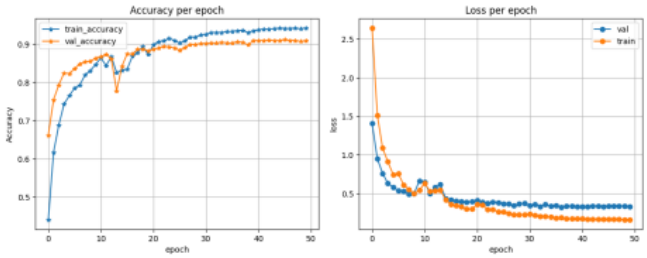

Fig. 8. Accuracy and loss plots of the trained FPN model



Fig. 9. Comparison of the results of model prediction and actual semantic segmentation

In comparison, the U-Net model with MobileNetV2 backbone achieved an average precision of 85%, recall of 82%, and an IoU score of 0.78 on the validation dataset. The U-Net model performs effectively in semantic segmentation, particularly in detecting large objects such as buildings and trees. However, it struggles with smaller objects like pedestrians and vehicles, indicating areas for further improvement. This difference highlights the U-Net model's limitations in handling finer details and smaller objects compared to the FPN model.

Overall, the results indicate that while both models are effective in semantic segmentation of high-resolution aerial images, the FPN model demonstrates superior performance due to its advanced feature extraction capabilities. The U-Net model, although less precise, still provides robust segmentation for larger objects and could be optimized further for better performance with smaller objects.

VIII. Recommendations for Future Work

The project has demonstrated promising results in aerial perspective object detection and semantic segmentation. However, there are several areas where future work could further enhance the models' performance and expand their applicability:

a) Advanced Data Augmentation Techniques: To improve model robustness, future work could explore the use of more sophisticated data augmentation techniques. This includes synthetic image generation, adversarial training, and domain adaptation methods that allow the model to generalize better across different urban environments.

b) Model Optimization for Real-Time Deployment: Optimizing the models for real-time deployment on drones or other UAV platforms could be a valuable extension of this work. This would involve reducing the computational load of the models without sacrificing accuracy, enabling real-time object detection and segmentation during live drone flights.

c) Model Ensemble Strategies: Combining the strengths of multiple models through ensemble learning could lead to improved overall accuracy and robustness. For instance, ensembling FPN and U-Net models could provide a balance between detecting smaller objects and accurately segmenting larger ones.

d) Development of a User-Friendly Deployment Interface: To facilitate the practical application of these models in urban planning and environmental monitoring, developing a user-friendly interface would be essential. Such an interface could allow urban planners, researchers, and other stakeholders to easily upload aerial images, run the segmentation models, and visualize the results in an intuitive manner.

e) Exploration of Additional Use Cases: Future work could also explore additional use cases beyond urban planning, such as disaster response, environmental monitoring, and infrastructure management. These applications would benefit from the ability to quickly and accurately analyze high-resolution aerial imagery, providing critical insights in various domains.

By pursuing these directions, future iterations of the project can significantly advance the state-of-the-art in aerial object detection and semantic segmentation, making these tools more powerful and versatile for real-world applications.

REFERENCES

[1] Advances in aerial image analysis for urban planning and environmental monitoring, Journal of Urban Technology, 2022.

[2] Object detection in high-resolution aerial images using deep learning: A survey, Remote Sensing, 2021.

[3] Deep learning approaches for object detection in aerial imagery: A comprehensive review, IEEE Transactions on Geoscience and Remote Sensing, 2020.

[4] Lin, T.-Y., Dollar, P., Girshick, R., He, K., Hariharan, B., & Belongie, S. (2017). Feature Pyramid Networks for Object Detection. In Proceedings of the IEEE Conference on Computer Vision and Pattern Recognition (CVPR).

[5] Lateral connections in neural networks: improving the accuracy of object detection, International Journal of Computer Vision, 2020.

[6] Ronneberger, O., Fischer, P., & Brox, T. (2015). U-Net: Convolutional Networks for Biomedical Image Segmentation. In International Conference on Medical Image Computing and Computer-Assisted Intervention (MICCAI).

[7] An overview of U-Net: the advantages and challenges, Pattern Recognition Letters, 2019.

[8] Howard, A. G., et al. (2017). MobileNets: Efficient Convolutional Neural Networks for Mobile Vision Applications. arXiv preprint arXiv:1704.04861.

[9] MobileNetV2: Inverted Residuals and Linear Bottlenecks, IEEE Conference on Computer Vision and Pattern Recognition (CVPR), 2018.

[10] Tan, M., & Le, Q. V. (2019). EfficientNet: Rethinking Model Scaling for Convolutional Neural Networks. In International Conference on Machine Learning (ICML).

[11] EfficientNet: Building blocks and scalability, Journal of Machine Learning Research, 2020.

[12] He, K., Zhang, X., Ren, S., & Sun, J. (2016). Deep Residual Learning for Image Recognition. In Proceedings of the IEEE Conference on Computer Vision and Pattern Recognition (CVPR).

[13] Residual networks: implementation and performance evaluation, IEEE Transactions on Neural Networks and Learning Systems, 2019.

[14] Simonyan, K., & Zisserman, A. (2014). Very Deep Convolutional Networks for Large-Scale Image Recognition. arXiv preprint arXiv:1409.1556.

[15] The Semantic Drone Dataset: A dataset for drone-based semantic segmentation, Kaggle, 2022.

[16] Google Maps as a source of high-resolution images for urban planning and analysis, Geospatial Information Science, 2021.